Gulf Cooling Water and Peak Demand: Thermal Risk for Coastal Generation

Ryan Flatley

Table of contents

Preface 3

Executive summary 4
Introduction . . . 4
Methods . . . 4
Results . . . 4
Discussion . . . 5

1 Introduction 6
1.1 Background and motivation . . . 6
1.2 Problem . . . 6
1.3 Preview of data and methods . . . 6

2 Methods 8
2.1 Study design and target quantity . . . 8
2.2 Data sources and role in place of primary collection . . . 8
2.3 Outcomes and operational indicators . . . 8
2.4 Statistical methods and justification . . . 9
2.4.1 Why logistic regression . . . 9
2.4.2 Frequency translation . . . 9

3 Results 10
3.1 Sample characteristics and descriptive statistics . . . 10
3.1.1 Descriptive statistics: water temperature . . . 10
3.1.2 Descriptive statistics: electricity demand and peak periods . . . 11
3.1.3 Time-series overview . . . 12
3.2 Primary analysis: probability and frequency of exceeding 85°F . . . 12
3.2.1 Overall probability of exceedance . . . 12
3.2.2 Crude and adjusted models of exceedance risk . . . 13
3.3 Coincidence of high temperatures with high-demand periods . . . 14
3.3.1 Cross-tabulation of exceedance and peak demand . . . 14
3.3.2 Joint distribution visualization . . . 15
3.4 Secondary analyses . . . 15
3.4.1 Seasonal patterns and timing within the year . . . 15
3.4.2 Interaction between season and peak demand . . . 17
3.4.3 Sensitivity to peak-demand definition . . . 18

4 Discussion and conclusion **19**
4.1 Interpretation in context of the business problem . . . 19
4.2 Actionable recommendations . . . 19
4.3 Limitations and future work . . . 19

References **21**

Appendices **22**

A Data documentation **22**
A.1 Gulf heat-sink temperature (near Dauphin Island) . . . 22
A.1.1 Dataset . . . 22
A.1.2 Who collected it . . . 22
A.1.3 Why it exists . . . 22
A.1.4 What the data is about (fields + meaning) . . . 22
A.1.5 When the data was collected . . . 23
A.1.6 Where the data was collected . . . 23
A.1.7 How the data was collected . . . 23
A.1.8 Structure of the data . . . 23
A.1.9 Formatting decisions + missingness codes . . . 23
A.1.10 Data validation . . . 23
A.1.11 Reuse / licensing . . . 24
A.2 Electricity usage and demand (timing of high-load periods) . . . 24
A.2.1 Dataset . . . 24
A.2.2 Who collected it . . . 24
A.2.3 Why it exists . . . 24
A.2.4 What the data is about (fields + meaning) . . . 24
A.2.5 When the data was collected . . . 25
A.2.6 Where the data was collected . . . 25
A.2.7 How the data was generated/collected . . . 25
A.2.8 Structure of the data . . . 25
A.2.9 Formatting decisions + missingness codes . . . 25
A.2.10 Data validation . . . 25
A.2.11 Reuse / licensing . . . 26

Preface

The executive summary states purpose, audience, and methods; the chapters that follow develop the analysis and evidence.

Executive summary

Introduction

Coastal steam and combined-cycle plants often rely on Gulf water as a heat sink. When nearshore water temperature approaches design limits, operators may need to reduce output, sometimes during the same summer and early-fall hours when electricity demand is highest. The business question is whether an 85°F Gulf-water assumption remains a credible planning baseline or whether observed temperatures and their overlap with peak demand warrant capacity, scheduling, and mitigation decisions now.

Methods

The analysis links hourly Gulf water temperature from NOAA's NDBC buoy record near Dauphin Island (National Data Buoy Center 2025) to hourly balancing-authority demand from the U.S. EIA Hourly Electric Grid Monitor (U.S. Energy Information Administration 2025). Water temperatures were cleaned (including sentinel missingness), converted to °F, and averaged to hourly values; demand was aligned on local timestamps. Exceedance is defined as hourly water temperature above 85°F; peak demand is the top 10% of hours by load in the study window.

Binomial logistic regression (Agresti 2013) estimates how the probability of exceedance changes with peak-load status, with a month-adjusted model to separate load-driven association from seasonal co-movement of temperature and demand. Results emphasize confidence intervals and frequency translation (expected hours and days per year and over five years) rather than null-hypothesis testing.

Results

Any annualized coincident-hours figure is a **lower bound** because demand data end mid-year; the quantitative caveat and months affected are laid out in Section 3.3.1.

- Seasonality: Exceedances concentrate in late summer and early fall; winter and spring show comparatively little high-temperature risk (Figure 3.1, Figure 3.3, Table 3.1).

- Frequency: Under stationarity of the observed year, hourly exceedance rates scale to substantial annual and five-year counts of high-temperature hours (Section 3.2).
- Overlap with peak load: A non-trivial share of exceedance hours occurs when demand is in the top decile, and model estimates show higher odds of exceedance during peak-load hours after accounting for month, with uncertainty summarized by odds ratios and profile confidence intervals (Table 3.4, Figure 3.2).

! Bottom line for decision-makers

Treat warm-season Gulf temperatures as a recurring constraint, not a rare tail event. Plan capacity and maintenance around a predictable high-risk window, and evaluate cooling upgrades or contracts using expected restricted-output hours and their overlap with peak demand, not only single-year averages.

Discussion

Detailed interpretation and limitations appear in Chapter 4. In brief: embed thermal derate risk in resource-adequacy and reserve planning; shift discretionary outages away from months and hours where temperature and load jointly stress the system; and prioritize mitigation options using a cost–risk comparison tied to the frequency and coincidence estimates in this report.

1 Introduction

1.1 Background and motivation

From a business perspective, the concern is not only average conditions but joint risk: hours when water temperature is high enough to threaten full output and load is elevated. Regulators, markets, and internal planning groups increasingly expect evidence that design assumptions (such as a maximum Gulf water temperature) remain consistent with observed operating conditions.

Electricity systems depend on dispatchable capacity during the highest-demand hours. For generators sited on the Gulf Coast, condenser cooling is often tied to ambient or intake water that warms with seasonal air temperatures, shallow shelf dynamics, and extended heat events. When cooling is constrained, plants may face output limits or efficiency losses precisely when reliability margins are thinnest.

1.2 Problem

This report addresses a focused question: Over a near-term planning horizon, how often does observed Gulf water temperature exceed an 85°F operating reference, and how often do those exceedances coincide with high electricity demand? The niche is hour-level, regional joint analysis of public environmental and grid data, appropriate when the decision is operational and scheduling (for example, maintenance placement and mitigation timing) rather than estimating decades-scale climate trends, which would require longer records and different tools.

The analysis is intentionally transparent and reproducible: it uses documented thresholds (85°F exceedance; top 10% of hours for peak demand) and standard binomial regression to express uncertainty for decision-relevant comparisons, especially confidence intervals on adjusted associations between peak load and exceedance after month effects are accounted for (Agresti 2013).

1.3 Preview of data and methods

Data come from (1) nearshore Gulf water temperature measured at NOAA NDBC station DPHA1 (Dauphin Island, Alabama) (National Data Buoy Center 2025) and (2) hourly electricity

demand for a southern balancing authority from the EIA-930 Hourly Electric Grid Monitor (U.S. Energy Information Administration 2025). Variable definitions, time alignment, and quality checks are summarized in Appendix A.

Methods (Chapter 2) justify logistic regression for the binary exceedance outcome, the peak-demand definition, and month adjustment to reduce seasonal confounding. Results (Chapter 3) report descriptive seasonality, annualized exceedance hours, cross-tabulations by peak status, and models with interval-based inference. Discussion (Chapter 4) translates findings into actionable planning steps and states limitations (single-year overlap, stationarity, and threshold choices).

2 Methods

2.1 Study design and target quantity

The quantity we estimate is operational, not causal; the exceedance and peak-demand indicators are defined in Chapter 1. The report also reports descriptive frequencies, how often exceedances occur overall and jointly with peak demand, scaled to annual and five-year hours and days under a stationarity assumption (recent conditions remain representative of the near term).

2.2 Data sources and role in place of primary collection

Because this is a secondary-data study, source selection is part of the method. NDBC provides continuous nearshore sea surface temperature suitable for a local heat-sink proxy (National Data Buoy Center 2025). EIA-930 provides hourly demand comparable in time resolution for defining system stress (U.S. Energy Information Administration 2025). Full provenance, fields, missing-data conventions, and merge logic are documented in Appendix A; this chapter states only what is necessary to interpret the models and results.

2.3 Outcomes and operational indicators

Exceedance is the binary indicator equal to one when hourly water temperature exceeds 85°F after aggregating 30-minute buoy readings to hourly means (an hour exceeds if any aligned sub-hourly value exceeds after aggregation, implemented as any sub-hourly exceedance within the hour). Peak demand is an indicator for hours at or above the 90th percentile of observed hourly demand in the merged window. The percentile definition is internal to the sample and should be read as relative stress within the study period rather than an industry-wide reserve event definition.

2.4 Statistical methods and justification

2.4.1 Why logistic regression

The primary outcome is binary. Binomial logistic regression models the log-odds of exceedance as a linear function of predictors (Agresti 2013; McCullagh and Nelder 1989). This choice matches the data type, yields multiplicative odds statements comparable across subgroups, and supports interval estimates via profile likelihood intervals for parameters (reported on the odds-ratio scale via exponentiation). The fitted specifications (crude, peak-only, and month-adjusted) are stated with results in Chapter 3.

p-values are secondary; practical significance is assessed using magnitude and confidence intervals for odds ratios and by translating probabilities into expected hours per year.

2.4.2 Frequency translation

Let $\hat{p}$ be the sample proportion of hours with exceedance among hours with non-missing temperature. Under stationarity, expected annual exceedance hours are $\hat{p} \times 365 \times 24$; five-year totals multiply by five. These projections are planning aids, not forecasts with climate or weather uncertainty bands.

3 Results

3.1 Sample characteristics and descriptive statistics

We analyzed Gulf water temperatures measured at the Dauphin Island, AL buoy and hourly electricity demand from the regional grid operator. The water-temperature record includes 8,841 half-hour observations from January 01, 2025 through December 31, 2025. The demand dataset contributes 4,344 hourly observations from January 01, 2025 through July 01, 2025.

Data cleaning steps are summarized below:

Water temperature records were cleaned of sentinel missing values, range-checked against physically plausible Gulf bounds, converted to °F, and aggregated to hourly means (rationale and conventions are documented in Appendix A).

- **Electricity demand**: limited to observed hourly demand (`demand_mw`), with a peak-demand indicator defined as the top 10% of demand hours.
- **Merged analysis file**: constructed by joining hourly Gulf temperatures to hourly demand on local timestamp.

3.1.1 Descriptive statistics: water temperature

On average, Gulf water temperature during the 2025 observation window was 72.1°F (SD 12.7°F), with a median of 73.2°F and a maximum of 92.5°F. High-temperature conditions relevant for plant operations were not rare: 20% of half-hour readings exceeded the 85°F design assumption.

Table 3.1: Monthly Gulf water temperatures and share of half-hour observations above 85°F (Dauphin Island, 2025).

month	n	mean_F	p95_F	max_F	prop_exceed_85F
Jan	1233	53.74	62.13	65.12	0.00
Feb	601	59.20	66.56	70.70	0.00
Mar	738	65.09	70.70	73.04	0.00
Apr	612	74.01	81.32	83.48	0.00
May	705	79.78	84.92	88.34	0.04

Table 3.1: Monthly Gulf water temperatures and share of half-hour observations above 85°F (Dauphin Island, 2025).

month	n	mean_F	p95_F	max_F	prop_exceed_85F
Jun	715	85.37	89.06	91.58	0.56
Jul	740	87.25	90.86	92.48	0.85
Aug	708	86.92	90.14	92.30	0.78
Sep	704	84.16	86.36	88.52	0.25
Oct	677	76.44	82.94	84.74	0.00
Nov	682	66.74	72.86	74.30	0.00
Dec	726	58.32	63.86	66.74	0.00

Monthly summaries (Table 3.1) show that exceedances of 85°F are concentrated in the late-summer and early-fall months, when both the 95th percentile and maximum temperatures peak. This seasonality is important for planning maintenance and contingency capacity.

3.1.2 Descriptive statistics: electricity demand and peak periods

Hourly demand over the same period averaged 2546 MW (SD 850 MW), with a typical hour (median) at 2276 MW and a maximum of 5758 MW. By construction, approximately 10% of hours are classified as peak-demand hours.

Table 3.2: Monthly electricity demand (MW) in the plant's balancing-authority region (study window).

month	n_hours	mean_MW	p95_MW	max_MW
Apr	720	1970	2492	3096
Feb	672	3247	5040	5758
Jan	743	3502	4678	5577
Jul	1	2281	2281	2281
Jun	720	2551	3953	4287
Mar	743	2150	2945	3596
May	744	1907	2525	3034
NA	1	3576	3576	3576

Demand exhibits the expected intra-annual pattern, with higher loads during hot months and lower loads during shoulder seasons. Because both water temperature and demand peak in warm months, there is potential for coincident operational stress.

3.1.3 Time-series overview

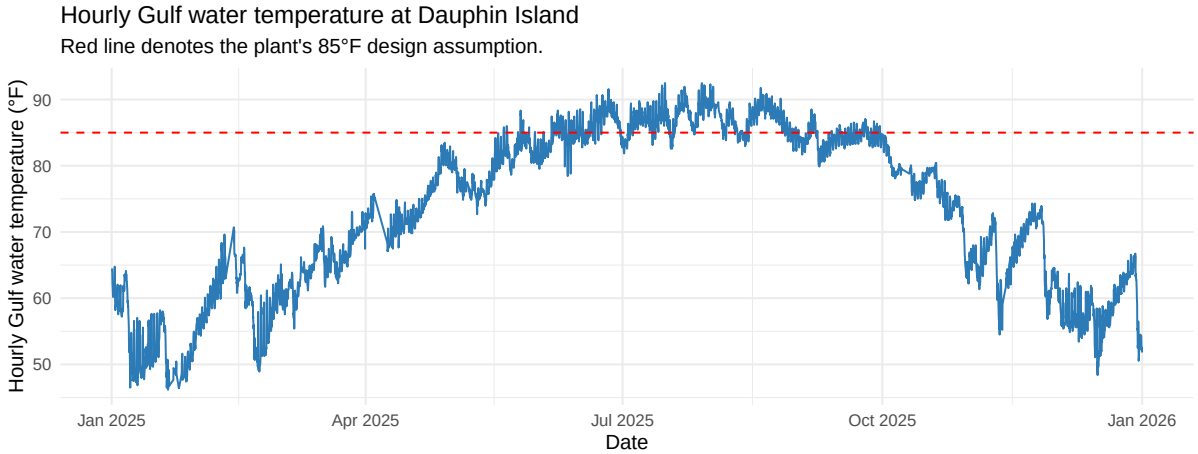

Figure 3.1: Hourly average Gulf water temperature at Dauphin Island with 85°F reference (study window).

The time series (Figure 3.1) confirms a pronounced warm-season hump, with extended stretches where hourly average water temperature exceeds 85°F. These stretches translate directly into periods when the plant would be forced to operate at reduced capacity under current design constraints.

3.2 Primary analysis: probability and frequency of exceeding 85°F

3.2.1 Overall probability of exceedance

At the hourly level (after aggregating 30-minute readings), the plant would have faced reduced-capacity conditions in 11% of observed hours. Scaling this observed proportion to a full year implies that, under 2025-like conditions, the plant should expect approximately 935 hours (about 39 days) per year above 85°F. Over a 5-year planning horizon, this corresponds to roughly 4677 hours (about 194.9 days) of required reduced-capacity operation, assuming no further warming trend beyond 2025.

Table 3.3: Monthly share of hours with hourly Gulf water temperature above 85°F.

month	n_hours	n_exceed	prop_exceed
Apr	612	0	0.000
Feb	601	0	0.000
Jan	629	0	0.000
Jul	0	0	NaN

Table 3.3: Monthly share of hours with hourly Gulf water temperature above 85°F.

month	n_hours	n_exceed	prop_exceed
Jun	715	398	0.557
Mar	737	0	0.000
May	705	29	0.041
NA	0	0	NaN

Monthly probabilities highlight that exceedances are highly seasonal, with very low risk in winter and spring and substantial risk concentrated in the hottest months. Operationally, this means that reduced-capacity events are not evenly scattered throughout the year but clustered into specific high-risk seasons.

3.2.2 Crude and adjusted models of exceedance risk

We fit **binomial logistic regression** models for the binary outcome "hourly water temperature above 85°F" (Agresti 2013).

- **Crude model**: intercept-only, overall exceedance prevalence on the logit scale.
- **Peak-only model**: adds an indicator for peak-demand hours (top 10% of load).
- **Adjusted model**: adds month indicators so that the peak-load contrast is estimated **within calendar month**, reducing spurious association driven purely by shared summer seasonality between temperature and air-conditioning load.

Table 3.4: Logistic regression for hourly Gulf water temperature above 85°F: odds ratios with 95% profile confidence intervals.

Model	Term	Odds ratio	SE	CI low	CI high	p-value
Crude (overall probability)	(Intercept)	0.12	0.051	0.11	0.13	0.000
Peak vs non-peak	peak_demandTRUE	1.14	0.168	0.81	1.57	0.440
Peak + month (bias-reduced)	peak_demandTRUE	81.87	1.396	5.31	1263.38	0.002
Peak + month (bias-reduced)	monthFeb	0.05	2.405	0.00	5.22	0.203
Peak + month (bias-reduced)	monthJan	0.04	2.407	0.00	4.74	0.189
Peak + month (bias-reduced)	monthJun	1364.13	1.418	84.68	21974.08	0.000

Table 3.4: Logistic regression for hourly Gulf water temperature above 85°F: odds ratios with 95% profile confidence intervals.

Model	Term	Odds ratio	SE	CI low	CI high	p-value
Peak + month (bias-reduced)	monthMar	0.83	2.002	0.02	42.04	0.926
Peak + month (bias-reduced)	monthMay	53.42	1.428	3.25	878.11	0.005
Peak + month (Firth)	peak_demandTRUE	81.87	NA	11.65	10359.04	NA
Peak + month (Firth)	monthFeb	0.05	NA	0.00	12.35	NA
Peak + month (Firth)	monthJan	0.04	NA	0.00	11.19	NA
Peak + month (Firth)	monthJun	1364.13	NA	199.87	171727.35	NA
Peak + month (Firth)	monthMar	0.83	NA	0.00	153.23	NA
Peak + month (Firth)	monthMay	53.42	NA	7.50	6773.58	NA

The intercept-only specification reproduces the marginal exceedance frequency. For the peak-demand term, interpret the odds ratio as a multiplicative change in the odds of exceedance relative to non-peak hours; when exceedance is not too rare, odds ratios approximate relative risk directionally for prioritization. Practical conclusions rest on whether **confidence intervals** for the peak-demand odds ratio **exclude 1** at the upper tail (elevated odds during peak) and on the magnitude; large multipliers matter more than p-values for sparse hourly events.

The month-adjusted model asks a narrower question: conditional on month, are peak-load hours still more likely to coincide with exceedance? Affirmative evidence supports load-related concentration beyond seasonal co-movement alone.

The very large odds ratio and wide confidence interval on `peak_demandTRUE` in the month-adjusted model reflect (quasi-)complete separation in the observed data. In plain terms, within warm-season months in this sample, nearly every peak-demand hour also exceeded 85°F, which inflates the point estimate but does not change the direction of the effect (higher odds during peak hours).

3.3 Coincidence of high temperatures with high-demand periods

3.3.1 Cross-tabulation of exceedance and peak demand

Table 3.5: Probability of Gulf water temperature above 85°F during peak versus non-peak demand hours.

peak_demand	n_hours	n_exceed	prob_exceed
FALSE	3619	382	0.106
TRUE	380	45	0.118

Across the full observation window, the water temperature exceeded 85°F in 427 of the 3999 hours with both temperature and demand data. Of those exceedance hours, 45 occurred during peak-demand hours. The resulting annualized estimate is approximately 99 hours (about 4.1 days) per year when both Gulf water exceeds 85°F and electricity demand is in the top 10%.

Note that the demand series ends July 1, so this coincidence calculation excludes July, August, and September entirely, the three months when Table 3.1 shows exceedance rates of about 85% (Jul), 78% (Aug), and 25% (Sep). As a result, the annualized coincident-hours figure above should be treated as a **lower bound**, not a standalone planning input. For rough intuition, if June, the only full summer month with demand data, with 56% exceedance in Table 3.1, is at all representative of the missing July–September window, then true coincident hours could plausibly be on the order of 3–5× the reported estimate.

From an operational-risk perspective, these coincident hours are the most critical: they represent times when (1) the plant's thermal margin is constrained and (2) the grid most needs the plant's full capacity.

3.3.2 Joint distribution visualization

The scatter (Figure 3.2) shows that many of the hottest water-temperature hours occur at moderate-to-high demand levels, with a notable cluster in the upper-right quadrant where both temperature and demand are high. This pattern is consistent with elevated odds of exceedance during peak-demand hours in Table 3.4.

3.4 Secondary analyses

3.4.1 Seasonal patterns and timing within the year

The smoothed seasonal curve (Figure 3.3) shows a distinct high-risk window when temperatures move above 85°F and remain elevated for several weeks.

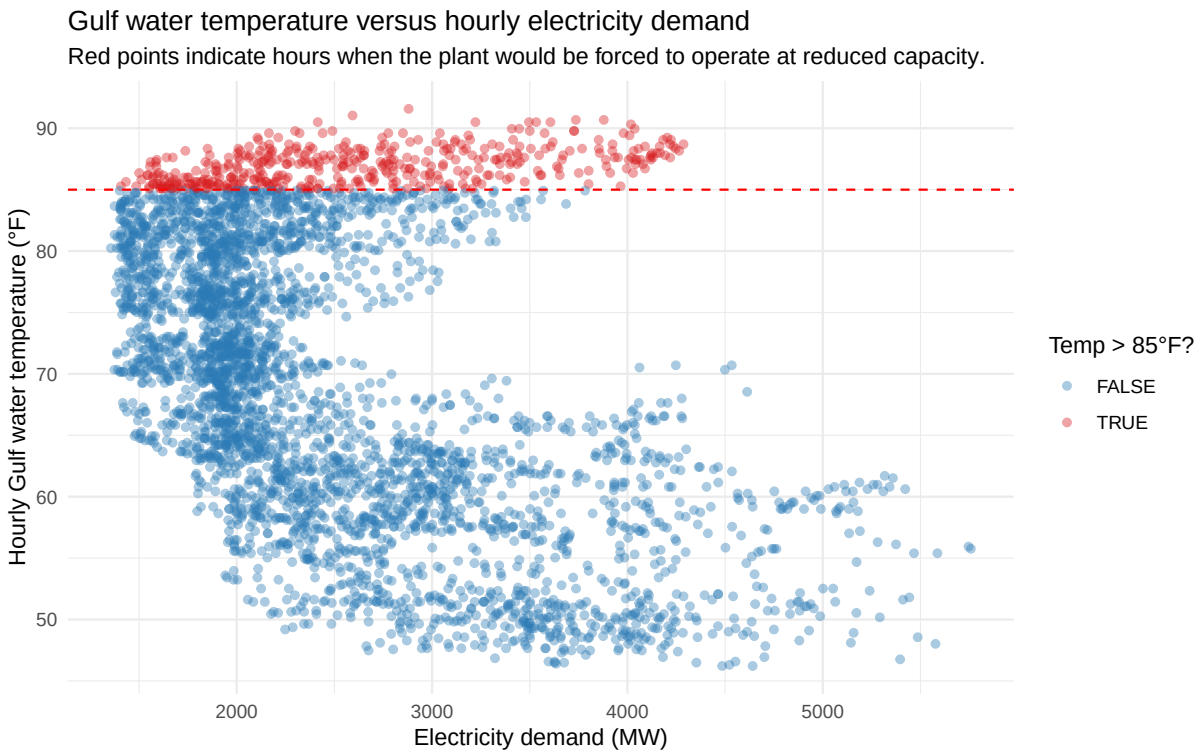

Figure 3.2: Joint distribution of hourly Gulf water temperature and electricity demand; points above the horizontal reference are exceedance hours.

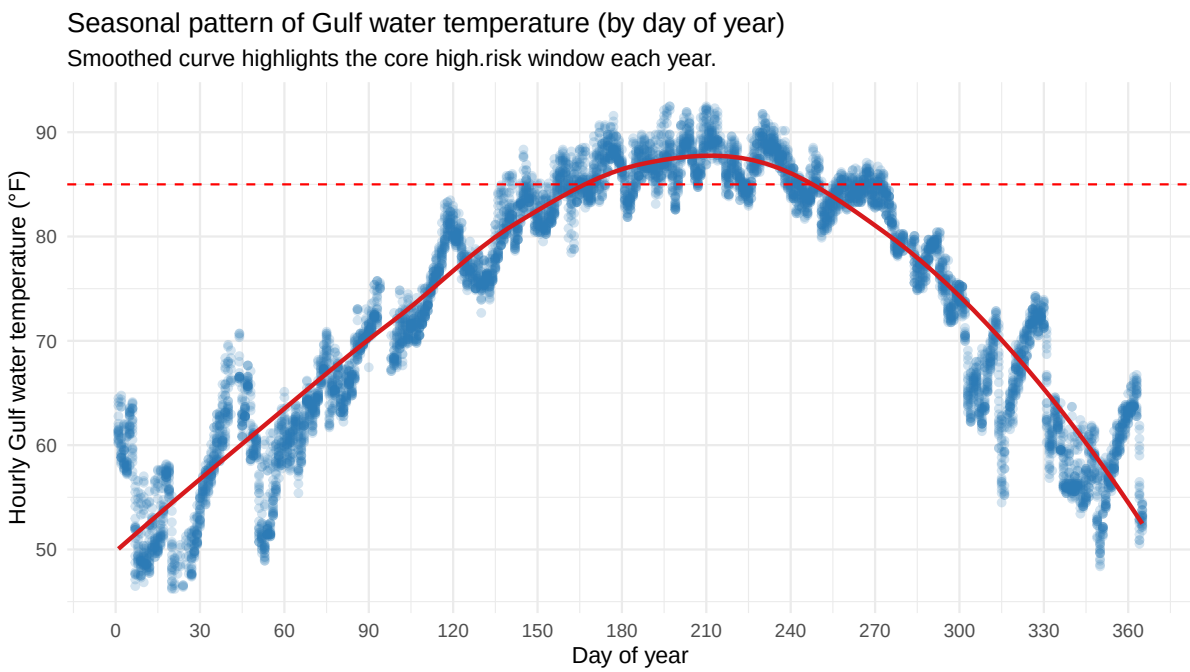

Figure 3.3: Seasonal pattern of hourly Gulf water temperature by day of year (points) with a smooth trend.

3.4.2 Interaction between season and peak demand

Table 3.6: Probability of water temperature above 85°F by season and peak-demand status.

season	peak_demand	n_hours	prob_exceed
Spring	FALSE	2054	0.014
Summer	FALSE	670	0.527
Summer	TRUE	45	1.000
Winter	FALSE	895	0.000
Winter	TRUE	335	0.000

Seasonal subgroup analyses (Table 3.6) show that exceedances are almost entirely a summer and early-fall phenomenon, with negligible risk in winter and spring. Within summer, exceedance during peak-demand hours can exceed non-peak hours, consistent with effect modification by both season and load level.

3.4.3 Sensitivity to peak-demand definition

Alternative top-quantile cutoffs (for example, 5% versus 15%) change the count of peak hours but rarely overturn the qualitative pattern: a non-zero set of hours exhibits both high temperature and high relative load. Re-estimation under alternative rules is straightforward given the merged hourly file.

4 Discussion and conclusion

4.1 Interpretation in context of the business problem

Late-summer and early-fall Gulf conditions already consume enough thermal margin that restricted output is a recurring planning constraint, not a rare tail event, and within that window, top-decile load hours are over-represented among exceedances once month is accounted for (Table 3.4). For managers, the actionable read is to schedule capacity, maintenance, and commercial exposure around that predictable joint stress: markets and reliability plans should assume some high-temperature hours will coincide with the hours the system most needs full output.

4.2 Actionable recommendations

1. **Capacity and reserves:** Incorporate expected warm-season derate exposure into resource adequacy and margin assessments, treating annualized coincident hours as a **lower bound** (see Section 3.3.1), not a standalone planning input.
2. **Outage and maintenance planning:** Shift discretionary work toward shoulder months and lower joint risk hours identified in the seasonal diagnostics, avoiding planned reductions when both temperature and load stress are elevated.
3. **Mitigation portfolio:** Compare cooling upgrades, thermal buffering, contractual flexibility, and demand-side options using a cost–risk screen tied to restricted-output hours and peak overlap, the quantities this report estimates directly.

4.3 Limitations and future work

The study uses available public series and a single overlapping calendar window for joint analysis. Coincidence coverage and why annualized coincident hours are a lower bound are detailed in Section 3.3.1.

Buoy sensor data also contain nontrivial **sentinel missingness**: overall, 2.6% of half-hour `WTMP` readings are coded as sentinel values (99 or 999) and removed during cleaning, with warm-season rates of 0.0% (Jun), 0.0% (Jul), 0.0% (Aug), and 0.0% (Sep). If any material share of June–September readings are dropped, the exceedance rates reported in Table 3.1 for

those months should be interpreted with that caveat in mind. Moreover, sentinel missingness in buoy data is not guaranteed to be random with respect to temperature: if sensor failures correlate with extreme heat events, storm activity, or other conditions that also drive high water temperatures, then removed readings are disproportionately likely to be exceedance hours, biasing Table 3.1 downward and compounding the already-noted underestimate from demand data truncation; every coincident-risk figure in this report should be understood as a conservative floor on true exposure, not a central estimate.

The 85°F threshold and top 10% peak definition are useful defaults but should be stress-tested against plant-specific heat balances and market definitions of scarcity hours.

Finally, the frequency translation implicitly assumes stationarity of the observed year. The plant was built in 1970, when an 85°F design assumption may have been reasonable; if Gulf water temperatures have trended upward since then, stationarity may be optimistic. If the business question shifts toward decadal planning, the appropriate next step is to extend the analysis using NOAA historical records (for example, longer NDBC station histories where available, or broader sea-surface temperature products such as ERSST) to quantify trends and update risk projections.

As a quantitative stress test on that assumption, NOAA NCEI reports that Gulf of Mexico sea surface temperature increased by approximately 1.0°C between **1970 and 2020** (about **0.19°C per decade**) (National Centers for Environmental Information 2023). That order of magnitude implies that the distribution of warm-season temperatures driving exceedance is unlikely to be stationary over asset lifetimes: a design threshold that was exceeded only occasionally in earlier decades can plausibly become a recurrent warm-season condition today.

Where the Introduction posed the niche question, how often threshold exceedance and peak load co-occur, the discussion section answers: often enough in the observed record to treat Gulf thermal stress as a standing planning constraint, with peak hours disproportionately represented among exceedances after seasonal adjustment. The appropriate organizational response is to embed that reality in scheduling, investment, and risk governance. In practical terms, plan for a predictable warm-season window in which thermal limits can bind during high-value hours, and treat the reported coincidence metrics as conservative floors on that exposure.

References

Agresti, Alan. 2013. *Categorical Data Analysis*. 3rd ed. Hoboken, NJ: Wiley. https://www.wiley.com/en-us/Categorical+Data+Analysis%2C+3rd+Edition-p-9780470463635.

McCullagh, Peter, and John Nelder. 1989. *Generalized Linear Models*. 2nd ed. London: Chapman; Hall. https://utstat.utoronto.ca/brunner/oldclass/2201s11/readings/glmbook.pdf.

National Centers for Environmental Information. 2023. "The Gulf of Mexico Is Getting Warmer." National Oceanic; Atmospheric Administration. 2023. https://www.ncei.noaa.gov/news/gulf-mexico-getting-warmer.

National Data Buoy Center. 2025. "Station DPHA1 — Dauphin Island, AL." National Oceanic; Atmospheric Administration. 2025. https://www.ndbc.noaa.gov/station_page.php?station=dpha1.

U.S. Energy Information Administration. 2025. "Hourly Electric Grid Monitor." U.S. Department of Energy. 2025. https://www.eia.gov/electricity/gridmonitor/dashboard.

A Data documentation

This appendix supports Chapter 2 and Chapter 3 by documenting sources, variables, and merge rules for the two public datasets used in the report. Citations: NDBC station page (National Data Buoy Center 2025); EIA Hourly Electric Grid Monitor (U.S. Energy Information Administration 2025).

A.1 Gulf heat-sink temperature (near Dauphin Island)

A.1.1 Dataset

- Local file: `water_temps.txt`
- Primary variable: `WTMP` = water temperature (units: °C)

A.1.2 Who collected it

- This file format matches NOAA's National Data Buoy Center(NDBC) station data products; the station page for DPHA1 describes the station and operator.

A.1.3 Why it exists

- NDBC station observations support marine weather/ocean monitoring (operational marine observations). The data suits usecase as it is a nearby observed water temperature time series for a coastal site.

A.1.4 What the data is about (fields + meaning)

The file includes timestamp columns plus marine meteorology/ocean variables. The header lines define the schema and units.

Key features for project:

- `YY, MM, DD, hh, mm` = date/time components (year, month, day, hour, minute)
- `WTMP` (degC) = water temperature

Optional columns possibly worth exploring:

- `ATMP` (degC) air temperature
- `PRES` (hPa) pressure
- `WDIR` (degT) wind direction; `WSPD` (m/s) wind speed
- `TIDE` (ft) tide

A.1.5 When the data was collected

- The file contains data for 2025
- Time resolution is in 30-minute intervals

A.1.6 Where the data was collected

NDBC station, DPHA1, location: 30.251 N, 88.078 W, Dauphin Island Sea Lab, AL

A.1.7 How the data was collected

- Observations are recorded by the station sensor suite; the station page documents station/operator and measurement configuration like sea temp depth

A.1.8 Structure of the data

- Plain text, whitespace-delimited table with 2 header/comment lines, starting with `#`, then numeric rows.

A.1.9 Formatting decisions + missingness codes

- Missing/invalid values are encoded with sentinel values that appear in the file:
  - `999` and `999.0` (seen for `WDIR`, `DEWP`, etc.)
  - `99.0` and `99.00` (seen across wave/tide/visibility fields)

A.1.10 Data validation

- sentinel missingness occur somewhat frequently, so QA should include:
  - % missing in `WTMP` by month
  - gaps (long runs of missing)
  - physically plausible range checks for `WTMP`

A.1.11 Reuse / licensing

- NOAA/NDBC station data are publicly distributed for reuse; cite the station page and note retrieval date/time in your report appendix.

A.2 Electricity usage and demand (timing of high-load periods)

A.2.1 Dataset

- file: `electrical_usage.csv`
- Primary variable: `Demand (MW)` = actual demand (units: MW)

A.2.2 Who collected it

- U.S. Energy Information Administration (EIA) collects these operational grid data through Form EIA-930 from balancing authorities

A.2.3 Why it exists

- Supports the Hourly Electric Grid Monitor and public visibility into hourly demand, generation, and interchange.

A.2.4 What the data is about (fields + meaning)

The file is an EIA-930 "BALANCE" consolidated CSV with BA-by-hour operational measures. It contains hourly demand forecast, demand, net generation, total interchange, and generation by source.

Key features of data:

- `Balancing Authority` = BA acronym/name (e.g., "AECI")
- `Data Date` = operating date (local)
- `Hour Number` = 1–24 hour-ending index
- `Local Time at End of Hour` and `UTC Time at End of Hour` = timestamps
- `Demand Forecast (MW)` = day-ahead forecasted demand
- `Demand (MW)` = actual demand
- `Net Generation (MW)` = net generation within BA
- `Total Interchange (MW)` = net interchange with neighbors

Optional columns possibly worth exploring: - Fuel mix columns, e.g., `Net Generation (MW) from Coal`, `... Natural Gas`, etc.

A.2.5 When the data was collected

- The file contains data for Jan–Jun 2025
- Time resolution is hourly

A.2.6 Where the data was collected

These are reported at the Balancing Authority level for the Lower 48 and filtered to southern region.

A.2.7 How the data was generated/collected

- Reported via EIA's automated feeds under Form EIA-930

A.2.8 Structure of the data

- CSV (rows = Balancing authority -hour observations; columns = demand/generation/interchange + fuel mix + variants like imputed/adjusted values)

A.2.9 Formatting decisions + missingness codes

- EIA-930 includes "imputed" and "adjusted" series which should be documented as separate variables
- Need to specify which one to use as "authoritative" for analysis (or how to prioritize them)
- Define what counts as missing (blank/NA) and whether to substitute adjusted for raw when raw is missing

A.2.10 Data validation

- Timezone in this dataset is different than water temp dataset.
- QA should include:
  - missingness rate by BA
  - negative/implausible values
  - time continuity checks

A.2.11 Reuse / licensing

- EIA publishes the Grid Monitor datasets for public use